CHAPTER 1
INTRODUCTION

1.1. CLIMATE

Climate refers to the long-term pattern of weather conditions in a particular region, typically measured over a period of 30 years or more. It includes the average and variability of meteorological elements such as temperature, humidity, atmospheric pressure, wind, and precipitation. Unlike weather, which describes short-term atmospheric conditions, climate focuses on the overall trends and typical conditions experienced in a region.

Factors Influencing Climate

Several natural and geographical factors interact to shape the climate of a region. These factors influence the distribution of solar energy, the movement of air and water, and the physical characteristics of the Earth's surface. Understanding these influences helps explain why different parts of the world experience varied climatic conditions.

- **Latitude**: Regions near the equator receive more direct sunlight and tend to be warmer, while areas closer to the poles are generally colder.
- **Altitude**: Higher altitudes experience cooler temperatures compared to lower elevations.
- **Distance from the Sea**: Coastal regions have milder and more moderate climates due to the thermal properties of water, which heats and cools more slowly than land.
- **Ocean Currents**: Warm and cold ocean currents influence the climate of coastal areas. For instance, the Gulf Stream warms the climate of northwestern Europe.
- **Topography**: Mountains can block prevailing winds, creating wetter conditions on the windward side and drier areas (rain shadows) on the leeward side.
- **Winds and Air Masses**: The movement of air masses brings variations in temperature and humidity, affecting regional climates.
- **Vegetation**: Different types of vegetation, such as forests, grasslands, and deserts, influence local climate by affecting temperature and precipitation through processes like evapotranspiration.

Indicators of Climate

Indicators of climate are measurable physical quantities that reflect the prevailing atmospheric conditions of a region over long periods. These indicators are crucial for characterizing and differentiating climates across various geographical areas. They help in

analyzing climate patterns, detecting changes, and understanding the environmental conditions influencing ecosystems and human activities.

The primary indicators of climate include:

- **Temperature:** Average, maximum, and minimum temperatures over months and years give insights into the thermal characteristics of a region.
- **Precipitation:** The amount, frequency, and seasonal distribution of rainfall or snowfall are key factors in defining regional climates.
- **Humidity:** Both relative and absolute humidity levels indicate the amount of moisture present in the air, influencing weather patterns and comfort levels.
- **Wind Patterns:** The direction, speed, and variability of wind, especially seasonal winds like monsoons, play a significant role in shaping local climates.
- **Atmospheric Pressure:** Variations in pressure systems impact weather stability and storm patterns, contributing to regional climate characteristics.
- **Solar Radiation:** The amount of incoming solar energy affects temperature, evaporation, and plant growth, influencing climate classification.
- **Cloud Cover:** The type and extent of cloudiness influence surface temperatures and precipitation patterns.
- **Evaporation and Dew Point:** These parameters reflect the interaction between heat and moisture in the atmosphere, important for understanding aridity and humidity levels.
- **Extreme Weather Events:** The frequency and intensity of events like floods, droughts, and storms serve as indicators of the stability and variability of a region's climate.
- **Seasonality:** The degree to which temperature and precipitation vary with the seasons is essential in distinguishing different climate types.

For the purpose of regionalizing the climate of Kerala, key focus will be given to **temperature**, **precipitation**, **humidity**, and **wind flow patterns**, as these parameters most directly influence the climatic distinctions within the state.

1.2. REGIONALIZATION OF CLIMATE

Regionalization of climate is a scientific and analytical approach that involves dividing a large geographic area into smaller, internally consistent climate zones based on selected atmospheric and geographic parameters. This process aims to identify and delineate regions that experience similar long-term weather patterns, such as average temperature, rainfall, humidity, and wind dynamics, typically over a baseline period of 30 years or more.

Regionalization provides a spatial understanding of how climate behaves across different terrains and topographies. It integrates climatic data with geographical context, using statistical, computational, and geospatial methods to derive meaningful climatic divisions. These divisions are essential for interpreting local climatic trends, analyzing climate variability, and implementing effective region-specific planning and policy frameworks.

Why is Climate Regionalization Important?

Regionalization of climate serves as a foundational step in a variety of applications across environmental science, agriculture, and socio-economic planning:

- **Understanding Spatial Climatic Variability:**
  It helps to reveal patterns and anomalies in climate behavior across regions, highlighting areas with distinct or transitional climatic features.
- **Supporting Agricultural Planning and Water Resource Management:**
  Different crops thrive under specific climatic conditions. Regional climate zones guide farmers and agricultural planners in crop selection, irrigation scheduling, and drought preparedness.
- **Preparing for Climate Change Impacts:**
  With climate change expected to alter local and regional climate patterns, regionalization allows for localized vulnerability assessments and adaptation strategies.
- **Designing Region-Specific Environmental Policies:**
  Climate-informed zoning supports land-use planning, biodiversity conservation, infrastructure development, and disaster risk management tailored to local conditions.
- **Facilitating Scientific Analysis and Research:**
  By structuring data spatially, regionalization enhances the analysis of climate models, supports climate forecasting, and contributes to long-term environmental monitoring.

1.3. RELEVANCE OF CLIMATE REGIONALIZATION TO KERALA

Kerala, a narrow coastal state along the southwestern edge of India, displays striking climatic diversity due to its complex topography, geographic location, and interaction with monsoonal systems. Though broadly classified under a tropical monsoon climate, the state experiences significant spatial and temporal variations in key climatic parameters such as rainfall, temperature, humidity, and wind flow. Regionalization of Kerala's climate is thus essential to understand, manage, and respond to these variations effectively.

Climate Variability in Kerala

Kerala's climate is predominantly governed by the southwest and northeast monsoons, the Western Ghats, and its coastal proximity. However, within its small geographical span, Kerala experiences:

- **Sharp rainfall gradients** — from over 6000 mm in high ranges to below 1000 mm in the rain-shadow zones.
- **Temperature differences** — cooler highlands compared to warmer coastal plains.
- **Microclimatic zones** — driven by elevation, vegetation, and proximity to water bodies.
- **Seasonal variability** — including marked differences between pre-monsoon, monsoon, and post-monsoon periods.

This variability makes the state susceptible to both **climate extremes** (like floods and droughts) and **seasonal uncertainty**, especially affecting agriculture, water resources, and biodiversity.

Importance of Regionalizing Kerala's Climate

Regionalizing Kerala's climate offers several tangible benefits:

- **Improved Resource Management:** Identifying homogeneous climate zones aids in better water management, irrigation planning, and disaster mitigation tailored to local needs.
- **Sustainable Agriculture:** Region-specific climate information supports crop selection, planting schedules, and risk assessment, especially important for rain-fed agriculture.
- **Climate Adaptation and Resilience:** Understanding localized climate behavior helps build targeted strategies for climate adaptation, especially in the face of changing rainfall patterns and temperature rise.
- **Policy and Planning:** Local governments can use climate zones to create **region-wise policies** in sectors like housing, infrastructure development, and environmental conservation.
- **Scientific Insight:** Kerala's unique east-west orientation (from sea level to over 2000 m in elevation within 120 km) makes it an excellent case study for understanding topography-driven climate variation.

1.4. K-MEANS ALGORITHM FOR CLIMATE REGIONALIZATION

Regionalizing climate based on observed data requires identifying patterns and grouping areas with similar climate characteristics. One effective way to achieve this is through the **k-means clustering algorithm**, a widely used unsupervised machine learning method.

K-means clustering partitions a set of data points into *k* distinct clusters in such a way that points within the same cluster are more similar to each other than to those in other clusters. In this study, each point represents a geographic location characterized by multiple climate parameters such as temperature, rainfall, humidity, and wind flow patterns. By evaluating these variables together, the algorithm groups regions that exhibit similar long-term climatic behavior.

The process involves:

- **Initialization**: Selecting *k* initial cluster centers (centroids), either randomly or using specific methods.
- **Assignment Step**: Each location is assigned to the nearest centroid based on a distance metric (typically Euclidean distance).
- **Update Step**: The centroids are recalculated as the mean of all points within each cluster.
- **Iteration**: The assignment and update steps are repeated until the centroids stabilize or a maximum number of iterations is reached.

K-means is particularly suitable for climate regionalization due to its simplicity, scalability, and effectiveness in handling multivariate datasets. However, it is sensitive to the choice of *k* (the number of clusters), which must be determined carefully using techniques such as the Elbow Method or Silhouette Analysis.

By applying k-means clustering to Kerala's climate data, this study aims to uncover coherent climate zones that can support region-specific planning in agriculture, water management, and environmental policy-making.

1.5. OBJECTIVES OF THE STUDY

The primary aim of this study is to regionalize the climate of Kerala using machine learning techniques, specifically K-Means clustering, to divide the state into distinct climatic regions based on climatic variables like rainfall and temperature.

To achieve this, the following steps will be undertaken:

1. Collection and Organization of Climate Data: The first step involves downloading daily climate data (rainfall, mean temperature, maximum temperature, and minimum

temperature) for 83 grids over Kerala from the India Meteorological Department (IMD) and converting this data into monthly averages using Python.

2. Computation of Monthly Averages: For each of the four climate variables (rainfall, mean temperature, maximum temperature, and minimum temperature), the monthly averages will be computed, resulting in 12 values per variable. This process will create a dataset with a total of 48 variables for further analysis.
3. Application of Principal Component Analysis (PCA): The dimensionality of the dataset will be reduced using PCA, focusing on the most significant features of the climate data. This technique will simplify the analysis and reduce the number of variables to approximately six.
4. Implementation of K-Means Clustering: The reduced dataset will then undergo K-Means clustering, allowing the classification of the 83 grids into distinct climatic zones. This step will help identify spatial patterns in the climate data across Kerala.
5. Analysis and Visualization of Results: The results of the clustering process will be analyzed, and visual representations such as graphs and maps will be created to illustrate the different climatic regions of Kerala. This insight will help in understanding the regional climate variations more effectively.

1.6. SCOPE OF THE STUDY

In this project, we aim to regionalize the climate of Kerala based on rainfall and temperature data collected from 83 grid points provided by the India Meteorological Department. We have processed daily data into monthly averages and used Principal Component Analysis (PCA) to reduce the number of variables. K-means clustering is applied to classify the regions. The study is limited to basic data analysis, dimensionality reduction, and clustering using Python programming, helping us to gain practical experience with data handling, machine learning techniques, and scientific visualization.

1.7. SIGNIFICANCE OF THE STUDY

The study holds significance both academically and practically. From a physics perspective, it demonstrates the application of statistical and computational methods to real-world physical systems, strengthening our understanding of data-driven modeling and analysis. By working with large sets of climatic data, the project illustrates how physical principles, such as pattern recognition and variability analysis, are crucial in interpreting complex natural phenomena.

In the broader context of climate science, the regionalization of Kerala's climate provides insights into spatial variations in climatic behavior, which is important for understanding local impacts of climate change. Identifying climatic zones can aid in resource management, disaster preparedness, and environmental planning, all of which are becoming increasingly important as climate variability intensifies.

Furthermore, this project highlights the growing interdisciplinary nature of modern scientific research, bridging physics, atmospheric science, and data science. Through this work, we have developed critical skills in Python programming, machine learning techniques like PCA and K-Means clustering, and scientific visualization, which are essential for addressing future scientific and societal challenges.

Thus, the project contributes to academic growth in physics and builds foundational skills relevant to climate studies and interdisciplinary research initiatives.

1.8. STRUCTURE OF THE REPORT

This report is organized into five chapters. The first chapter provides an introduction to the study, outlining the background, objectives, scope, and significance. The second chapter reviews the relevant concepts related to climate, regionalization, and clustering techniques. The third chapter details the methodology, including data collection, processing, and analysis methods. The fourth chapter presents the results and discussion based on the clustering outcomes. The final chapter concludes the study with key findings and suggestions for future work.

CHAPTER 2
LITERATURE REVIEW

2.1. INTRODUCTION TO CLIMATE REGIONALIZATON

Climate regionalization is the process of dividing a geographical area into zones that exhibit similar climatic characteristics. This approach facilitates targeted environmental management, resource allocation, and adaptation strategies by identifying homogeneous climate regions within a larger and often heterogeneous context. In the case of Kerala, climate regionalization holds special significance due to the state's pronounced spatial variability in both rainfall and temperature, which is influenced by complex topographical and monsoonal dynamics. Notably, Kerala's mean monsoon precipitation varies from about 600 mm to 3000 mm (1951-2017), with the state being divided into different rainfall regions.

Unlike the more uniform climate patterns observed in India's northern plains, Kerala presents a unique challenge for regionalization due to its narrow latitudinal extent (8°18'N to 12°48'N) combined with dramatic elevation changes from sea level to over 2500m in the Western Ghats. This creates microclimatic zones within short geographical distances—a phenomenon not seen in topographically homogeneous regions. This spatial heterogeneity underpins the need for robust regionalization methodologies tailored to Kerala's distinctive geography.

2.2. CLIMATE REGIONALIZATION TECHNIQUES

Various techniques have been developed to regionalize climate, broadly categorized into statistical, clustering, and hybrid approaches. Statistical methods, such as Principal Component Analysis (PCA), are used for dimensionality reduction and pattern recognition in complex climate datasets. Clustering techniques, particularly K-means and hierarchical clustering, classify data into groups (clusters) based on similarity measures, providing objective methods to identify homogeneous climatic zones. In Kerala, these approaches have been employed to delineate regions of similar rainfall and temperature patterns, with clustering methods proving especially effective for rainfall-based regionalization.

Hybrid methods, such as the combination of PCA and K-means, further enhance the identification of climate zones by leveraging the strengths of both statistical and clustering frameworks. These hybrid approaches have demonstrated particular value in regions with complex topography like Kerala, where traditional climate classification systems such as

Koppen-Geiger often fail to capture fine-scale variations that are critical for local planning and resource management.

2.2. PRINCIPAL COMPONENT ANALYSIS (PCA) IN CLIMATE STUDIES

Principal Component Analysis (PCA) is a widely used technique in climate studies for dimensionality reduction. It transforms high-dimensional climate datasets into a smaller number of uncorrelated principal components, each capturing a significant portion of the total variance. This process highlights dominant climatic patterns and reduces noise and redundancy, thereby facilitating more effective subsequent analysis. In climate regionalization, PCA is often used as a preprocessing step before clustering, ensuring that the most informative features are retained.

The goal of PCA is to reduce the number of variables (or dimensions) in the dataset without losing too much information. It works by projecting the data onto a new coordinate system, where the axes (principal components) represent directions of maximum variance in the data. The first principal component accounts for the largest variance, the second accounts for the second largest, and so on.

The PCA technique is particularly useful when:

1. The dataset has high dimensionality, which can lead to computational challenges.
2. The dataset contains collinearity, where some features are highly correlated.
3. The aim is to visualize the data by reducing the dimensions (for example, from 100 features to 2 or 3 principal components).

Steps for PCA Implementation

The process of performing PCA typically follows several key steps:

1. Standardization of the Data:

Since PCA is sensitive to the scales of the features, it is crucial to standardize the data, especially when the features have different units. This involves subtracting the mean of each feature and dividing by its standard deviation, so that each feature has a mean of zero and a standard deviation of one.

2. Covariance Matrix Computation:

After standardizing the data, the next step is to calculate the covariance matrix, which represents how the features in the dataset vary with respect to each other. The covariance matrix is essential for understanding the relationships between the features. If the features are highly correlated, the covariance values will be large.

3. Eigenvalues and Eigenvectors:

The next step is to calculate the eigenvalues and eigenvectors of the covariance matrix. The eigenvectors represent the directions (principal components) in which the data has the most variance. The eigenvalues represent the magnitude of the variance along these directions.

4. Sort the Eigenvalues and Eigenvectors:

The eigenvalues are sorted in descending order, and their corresponding eigenvectors are rearranged accordingly. This step ensures that the first principal component accounts for the most variance in the data, the second component for the next largest variance, and so on.

5. Select the Principal Components:

Based on the sorted eigenvalues, you can select the principal components that contribute the most to the data's variance. In practice, the first few principal components typically capture most of the variance. The number of components to retain can be determined using techniques like the explained variance ratio or a scree plot.

6. Project the Data onto the Principal Components:

The final step involves projecting the data onto the selected principal components. This is done by multiplying the original data with the eigenvectors of the selected components. The result is a new set of coordinates for the data in a reduced-dimensional space.

Selection of Principal Components

The selection of the number of principal components to retain is a critical part of PCA. Retaining too few components might result in losing important information, while keeping too many might defeat the purpose of dimensionality reduction. The selection is typically made based on the explained variance ratio, which shows how much of the total variance is explained by each principal component.

1. Explained Variance:

Each principal component has an associated eigenvalue, and the proportion of variance explained by each component can be calculated by dividing each eigenvalue by the sum of all eigenvalues. This gives the explained variance ratio.

2. Cumulative Explained Variance:

A cumulative plot of the explained variance can help in selecting the number of components to retain. A common rule of thumb is to select enough components so that the cumulative variance accounts for around 90-95% of the total variance. This ensures that the reduced dimensionality still preserves most of the data's variability.

3. Scree Plot:

A scree plot is a graphical tool used to determine the optimal number of principal components. It displays the eigenvalues in descending order. The point at which the eigenvalues start to level off (the "elbow" of the curve) often indicates the ideal number of components to keep.

PCA is a powerful tool for reducing the dimensionality of data while retaining as much of the original variance as possible. By carefully selecting the principal components, one can achieve significant data compression and enhanced visualization, making it easier to interpret high-dimensional data.

2.3. K-MEANS CLUSTERING FOR CLIMATE CLASSIFICATION

K-means clustering is an unsupervised machine learning algorithm that partitions data into k clusters by minimizing the within-cluster sum of squared distances. It is favored in climate classification studies due to its simplicity, scalability, and ability to handle large datasets efficiently. In the context of climate regionalization, K-means is applied to group locations or observations with similar climatic attributes, such as rainfall or temperature, into homogeneous zones. It is widely used in fields such as marketing, astronomy, biology, and computer vision, among others.

Clustering is the process of grouping data points so that those within the same group, or cluster, are more similar to each other than to points in other clusters. It helps in identifying patterns, simplifying complex datasets, and detecting anomalies. K-Means clustering is particularly known for its simplicity and efficiency. The algorithm works by partitioning the dataset into K clusters, each defined by a centroid, which represents the mean position of all points in that cluster.

The goal of K-Means is to minimize the Within-Cluster Sum of Squares (WCSS), a measure of the variance within each cluster. The WCSS is given by the formula:

$$WCSS = \sum_{I=1}^{K} \sum_{x \in C_i} \|x - \mu_i\|^2$$

where ‘K’ is the number of clusters, ‘C_i’ is the set of points in the ‘i’-th cluster, x is a data point in the i-th cluster, and μ_i is the centroid of the ‘i’-th cluster. The algorithm shown in Fig. 2.1. iteratively updates the centroids and reassigns points to the nearest centroid until convergence.

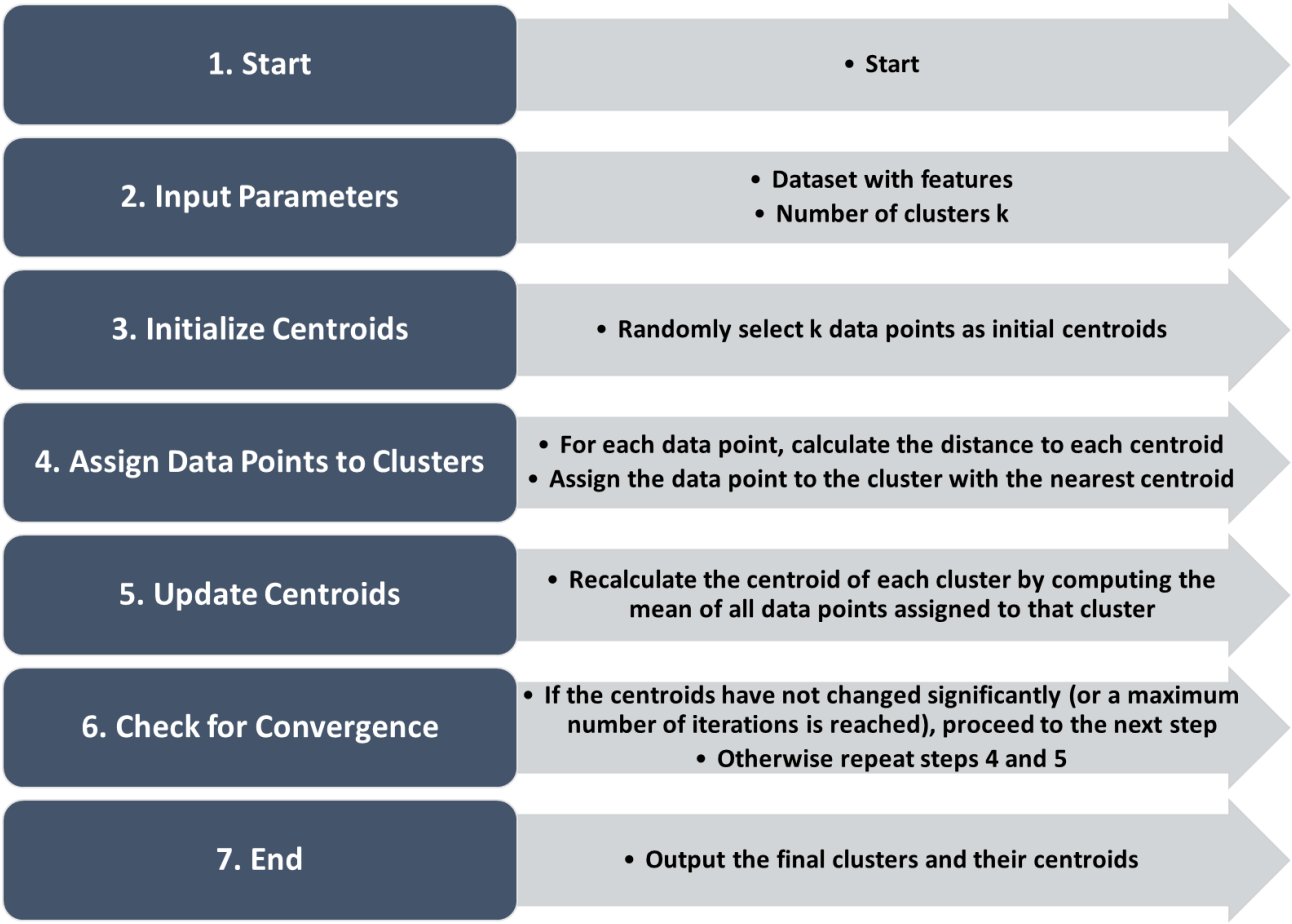

Figure 2.1. Flowchart of K-means clustering algorithm.

The K-means clustering algorithm begins by specifying the number of clusters k and randomly selecting k initial centroids from the dataset. Each data point is then assigned to the nearest centroid based on a distance metric (commonly Euclidean distance), effectively forming initial clusters. After the assignment, the centroids are recalculated by computing the mean of all data points in each cluster. This process of assignment and centroid updating is repeated iteratively until the centroids stabilize (i.e., no longer change significantly) or a pre-defined number of iterations is reached. The result is a partitioning of the dataset into k clusters, where each cluster contains data points with similar characteristics. This method is especially useful in climate regionalization, as it groups locations with similar climatic patterns (like temperature and precipitation), allowing for a clearer understanding of spatial climate variability.

Determining the Number of Clusters (K)

Choosing the optimal value of K is crucial for effective clustering. Several methods are used to determine K:

- **Elbow Method**: This involves plotting the WCSS for different values of K and identifying the "elbow" point where the decrease in WCSS slows down significantly.

- **Silhouette Analysis**: This technique measures how well each point fits within its cluster, helping to evaluate clustering quality.

- **Gap Statistic**: This compares the WCSS of the dataset with that of a random distribution, helping to identify the best K.

Distance Metrics in K-Means

K-Means typically uses Euclidean distance to measure the similarity between data points. However, depending on the type of data, other distance metrics might be more appropriate:

- **Manhattan Distance:** Useful for data arranged in grid-like structures.

- **Cosine Similarity:** Common in text data analysis, measuring the cosine of the angle between vectors.

- **Hamming Distance:** Used for categorical data, comparing the number of differing attributes.

Advantages and Limitations of K-Means

K-Means offers several advantages:

- Simplicity: The algorithm is easy to understand and implement.

- Efficiency: It works well even with large datasets.

- Scalability: It can handle very large datasets efficiently.

- Interpretability: The results of K-Means clustering are straightforward to interpret.

However, K-Means also has its limitations:

- Predefined K: The number of clusters (K) must be chosen beforehand, which may not always be straightforward.

- Initialization Sensitivity: Poor initial centroids can lead to suboptimal clustering.

- Assumes Spherical Clusters: K-Means assumes that clusters are spherical, which may not hold in complex data.

- Outlier Sensitivity: Outliers can significantly distort the centroid calculations.

K-Means Clustering is an effective and widely used method for uncovering hidden patterns in data. While it is simple, efficient, and scalable, it is important to account for its limitations and carefully choose parameters like K and the distance metric for optimal performance.

2.4. PYTHON PROGRAMMING LANGUAGE AND KEY PACKAGES USED

Python is a high-level, general-purpose programming language that has become a cornerstone in scientific computing and data analysis. Its clear syntax and large ecosystem of libraries make it ideal for tasks involving data processing, statistical analysis, machine learning, and visualization. In the context of climate regionalization, Python provides a robust platform to manage climate data, perform clustering algorithms like K-means, and visualize spatial patterns effectively.

Several Python packages were extensively used in this project:

- **Pandas**: This is the foundational library for data manipulation and analysis. It allows structured data to be loaded from various sources (e.g., CSV, Excel, SQL) and represented in DataFrames. For this study, Pandas was used to organize climate data (such as rainfall and temperature records), handle missing values, and perform filtering and aggregation tasks crucial for preprocessing before clustering.
- **NumPy**: As a core scientific computing library, NumPy provides efficient array structures and mathematical operations. In this project, NumPy was used for numerical calculations, especially during the implementation of algorithms that required fast array computations, such as distance calculations and centroid updates in clustering.
- **Scikit-learn (sklearn)**: This machine learning library is central to implementing the K-means clustering algorithm. Scikit-learn offers a user-friendly and optimized implementation of K-means, including methods to set cluster numbers, compute within-cluster sum of squares (WCSS), and assess model performance. Additionally, it includes preprocessing tools like standardization and splitting datasets.
- **Matplotlib**: For visual communication of the results, Matplotlib was used to create static plots, including scatter plots of clustered data and line graphs of performance metrics like WCSS versus number of clusters (elbow plot). Visualization helps in interpreting patterns and validating the effectiveness of the clustering.

Python's strength lies in the interoperability of these packages. Together, they allowed for a seamless workflow: data acquisition and cleaning (Pandas), numerical operations (NumPy), machine learning modeling (Scikit-learn), and visualization (Matplotlib). This ecosystem significantly reduced development time and enabled the clear, reproducible, and scalable implementation of climate regionalization methods.

2.5. PRIOR STUDIES

Numerous studies have demonstrated the value of machine learning techniques—especially K-means clustering and Principal Component Analysis (PCA)—in climate regionalization.

Combining PCA with K-means has been effective in reducing data dimensionality and improving clustering outcomes, as seen in applications across Ethiopia and Europe (MDPI, ScienceDirect). In Kerala, clustering methods have been used to identify homogeneous rainfall regions. For example, Sahai et al. (2003) outlined three distinct rainfall zones, while Rani and Sreekala (2018) expanded this to five by incorporating additional variables.

However, many studies rely heavily on rainfall data and overlook other key climatic factors like temperature and humidity. They also tend to use coarse spatial resolution and limited temporal data, which may not capture Kerala's diverse microclimates or long-term trends.

This project builds upon earlier efforts by using a multi-variable approach, finer spatial detail, and a data-driven methodology to generate more nuanced and practical climate regions for Kerala

CHAPTER 3
METHODOLOGY

3.1. INTRODUCTION

In this chapter, we outline the methodology used to regionalize the climate of Kerala through statistical and machine learning techniques. The primary objective of this study was to classify Kerala into distinct climatic regions based on rainfall and temperature data. To achieve this, we employed Principal Component Analysis (PCA) for dimensionality reduction and K-Means clustering to identify homogeneous climatic zones. Data collected from the India Meteorological Department were processed, analyzed, and visualized using Python programming. This chapter details the steps followed, the techniques applied, and the tools utilized to implement the methodology effectively. The combined use of PCA and K-Means clustering, along with Python's robust data science ecosystem, enabled us to extract meaningful patterns from complex climate data and gain insights into the spatial distribution of climate regions within Kerala.

3.2. STUDY AREA AND DATA USED

The study focuses on Kerala, a state located along the southwestern coast of India, lying between 8.25°N to 12.75°N latitude and 74.75°E to 77.25°E longitude, with a total area of approximately 38,863 square kilometers. Kerala is characterized by a complex topography and diverse climatic conditions influenced by the Western Ghats, Arabian Sea, and monsoonal patterns, making it an ideal candidate for climate regionalization studies.

The climate data used in this study were obtained from the India Meteorological Department (IMD). The primary dataset is the gridded daily rainfall dataset, prepared and archived by the National Data Centre, IMD Pune. This dataset was developed using data from 6,955 rain gauge stations across India. The data cover a spatial resolution of 0.25° × 0.25°, resulting in 83 grid points over Kerala (Fig. 3.1.).

The temporal resolution of the dataset is daily, and the data span a long period from 1951 to 2020. For this study, the following climate variables were used:

- Rainfall (in millimetres)
- Mean Temperature (in °C)
- Maximum Temperature (in °C)
- Minimum Temperature (in °C)

The combination of long-term, high-resolution data with multiple climatic variables ensures a robust foundation for analyzing spatial and temporal climate variability in Kerala and supports the effectiveness of the machine learning approach adopted in this work.

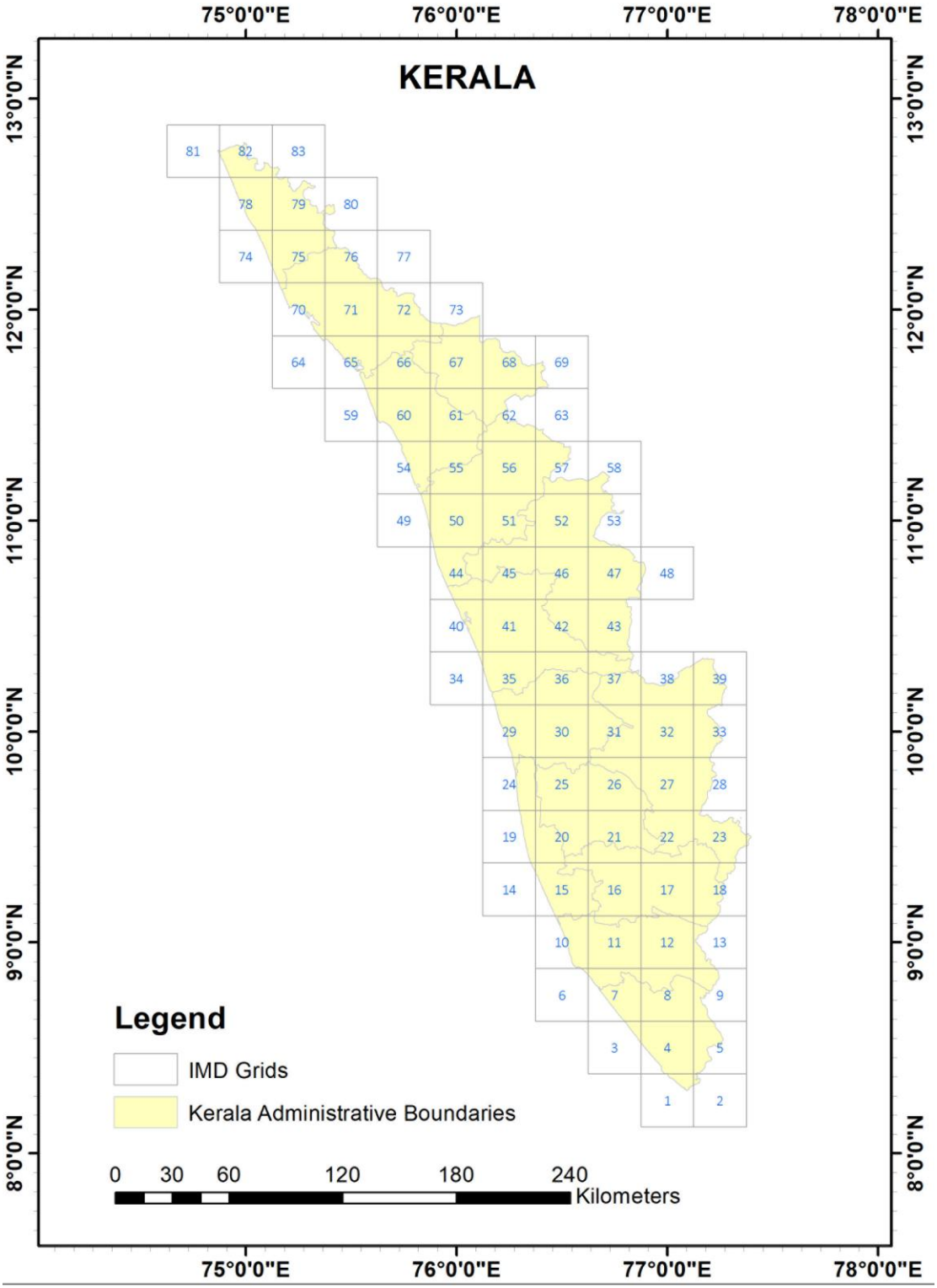

Figure 3.1. Geographical representation of the 83 selected grid points utilized in this study

3.3. DATA PREPROCESSING

Effective data preprocessing is a critical step in preparing climate data for regionalization. In this study, several preprocessing tasks were performed using Python to transform the raw daily data into a format suitable for analysis.

1. **Conversion of Daily to Monthly Data:**

   The original dataset comprised daily records of rainfall and temperature across 83 grid points. Using Python, this data was aggregated into monthly values. For each month:

   - Rainfall values were summed, capturing the total monthly precipitation.
   - Temperature values (mean, maximum, and minimum) were averaged to represent monthly means.

The following Python program was used for converting daily rainfall data into monthly totals:

```
# Program for converting daily rainfall data to monthly totals
import pandas as pd
# Load the daily rainfall data
file_path = "C:/Project/Data/Daily/daily_rainfall.xlsx"  # Update with actual file path
df = pd.read_excel(file_path, header=None)
# Rename columns: first column is date, rest are grid values
df.columns = ["Date"] + [f"Grid_{i}" for i in range(1, 84)]  # 83 grid points
# Convert 'Date' to datetime format
df["Date"] = pd.to_datetime(df["Date"])
# Extract year and month
df["Year"] = df["Date"].dt.year
df["Month"] = df["Date"].dt.month
# Group by Year, Month and compute monthly total rainfall (sum)
monthly_totals = df.groupby(["Year", "Month"]).sum(numeric_only=True).reset_index()
# Save the monthly total rainfall data
output_file = "C:/Project/Data/Monthly/monthly_rainfall.xlsx"
monthly_totals.to_excel(output_file, index=False)
print(f"Monthly rainfall totals saved to {output_file}")
```

A similar approach was used to convert daily temperature datasets (mean, max, and min) into monthly means.

2. **Monthly Averaging Across Years:**

   Once the monthly data was derived, the month-wise average for each variable was calculated over the entire study period (1951–2020). This resulted in a climatological profile for each grid point, comprising:

   - 12 variables for Rainfall (January to December),
   - 12 variables for Maximum Temperature,
   - 12 variables for Minimum Temperature, and
   - 12 variables for Mean Temperature.

Thus, each grid point is ultimately represented by 48 features, capturing the seasonal variation of key climatic parameters. The preprocessing was automated using custom Python scripts that leveraged the pandas and numpy libraries for efficient data handling and transformation.

An example code for computing the month-wise average of rainfall is shown below:

```
#Program for finding month-wise average of Rainfall data
import pandas as pd
# Load the Excel file properly
file_path = "C:\Project\Data\Monthly\monthly_rainfall.xlsx"  # Update with actual file path
df = pd.read_excel(file_path, header=None)  # Ensure first row is not treated as header
# Rename columns (if needed)
df.columns = ["Date"] + [f"Grid_{i}" for i in range(1, 84)]  # Name columns properly
# Convert the first column to proper 'YYYY-MM' format
df["Date"] = pd.to_datetime(df["Date"]).dt.to_period("M")  # Removes day/time
# Extract month
df["Month"] = df["Date"].dt.month
# Compute monthwise average for each of the 83 grids
monthwise_avg = df.groupby("Month").mean(numeric_only=True)
# Save results
output_file = "C:/Project/Data/Monthly/monthwise_avg_rainfall.xlsx"
monthwise_avg.to_excel(output_file)
print(f"Monthwise average rainfall data saved to {output_file}")
```

The same logic was used to compute the month-wise climatology for all temperature variables.

3.4. PRINCIPAL COMPONENT ANALYSIS IMPLEMENTATION

To reduce the dimensionality of the dataset while preserving as much of the variance as possible, Principal Component Analysis (PCA) was applied. Prior to PCA, the processed climate variables for each of the 83 grid points were consolidated into a single Excel file (total_average.xlsx). In this file:

- The first column contains the grid names.
- The next 48 columns represent the climate variables:
    - 12 values each for Rainfall, Maximum Temperature, Minimum Temperature, and Mean Temperature (January to December).

PCA was then performed using Python. The process involved the following steps:

1. **Loading and preparing the data**: Grid names were separated, and only the numerical variables were used for PCA.
2. **Standardizing the data**: Since PCA is sensitive to the scale of variables, the data was standardized using StandardScaler from sklearn.preprocessing.
3. **Applying PCA**: The PCA module from sklearn.decomposition was used to reduce the 48-dimensional data to a lower number of principal components (e.g., 7 components).
4. **Saving the results**: The resulting principal components for each grid point were saved in a new Excel file for further analysis and clustering.

```
#Program for implementing Principal Component Analysis
import pandas as pd
from sklearn.decomposition import PCA
from sklearn.preprocessing import StandardScaler
#Load the Excel file (update the path accordingly)
file_path = r"C:\Project\Data\Monthly\total_average.xlsx"
df = pd.read_excel(file_path)
#Extract the grid names (first column)
grid_names = df.iloc[:, 0]  # Assuming first column is grid names
#Extract numerical data (excluding first column)
data = df.iloc[:, 1:].values  # 48 variables
#Standardize the data (important for PCA)
scaler = StandardScaler()
```

```
data_scaled = scaler.fit_transform(data)
#Apply PCA (reduce to a reasonable number of components, e.g., 5)
num_components = 10 # Adjust as needed
pca = PCA(n_components=num_components)
principal_components = pca.fit_transform(data_scaled)
#Create a DataFrame for PCA results
pca_df = pd.DataFrame(principal_components, columns=[f"PC{i+1}" for i in range(num_components)])
pca_df.insert(0, "Grid", grid_names)  # Add grid names back
#Save the PCA results to an Excel file
output_file = "C:/Project/Data/Monthly/grid_PCA_results.xlsx"
pca_df.to_excel(output_file, index=False)
print(f"PCA transformation completed. Results saved to {output_file}")
#Print explained variance ratio (to see how much variance is captured)
print("Explained variance ratio:", pca.explained_variance_ratio_)
```

The explained variance ratio printed at the end of the program shows the proportion of the dataset's total variance captured by each principal component. This is a crucial step in assessing how many components are sufficient to retain most of the information in the original data. A cumulative sum of these ratios helps determine how much of the total variance is preserved with the selected number of components, guiding decisions on dimensionality reduction without significant information loss.

3.5. K-MEANS CLUSTERING IMPLEMENTATION

After performing PCA, the explained variance ratio was analyzed to decide how many principal components to retain. The number of components that cumulatively explained at least 99% of the total variance were selected as the indicator variables for clustering. In this case, 7 principal components were found to be sufficient.

These components serve as compressed representations of the original 48 climate variables, making the clustering process more efficient and less prone to noise.

To identify distinct climate regions among the grid points, **K-Means Clustering** was applied using the following steps:

1. **Load PCA-transformed data**.
2. **Standardize** the principal components before clustering.

3. Use the **Elbow Method** to determine the optimal number of clusters.
4. Apply **K-Means clustering** using the optimal number of clusters.
5. Save the resulting cluster labels back to the same Excel file.

```
#Program for implementing Principal Component Analysis
import pandas as pd
from sklearn.cluster import KMeans
from sklearn.preprocessing import StandardScaler
import matplotlib.pyplot as plt
#Load the Excel file (update the file path)
file_path ="C:\Project\Data\Monthly\grid_PCA_results.xlsx"
df = pd.read_excel(file_path)
#Extract the grid names (first column)
grid_names = df.iloc[:, 0]  # Assuming first column is grid names
#Extract PCA variables (next 7 columns)
data = df.iloc[:, 1:].values  # 7 PCA variables
#Standardize the data (important for clustering)
scaler = StandardScaler()
data_scaled = scaler.fit_transform(data)
#Find the optimal number of clusters using the Elbow Method
inertia = []
k_values = range(1, 20)  # Checking clusters from 1 to 10
for k in k_values:
    kmeans = KMeans(n_clusters=k, random_state=42, n_init=10)
    kmeans.fit(data_scaled)
    inertia.append(kmeans.inertia_)
#Plot the Elbow Curve
plt.plot(k_values, inertia, marker='o')
plt.xlabel("Number of Clusters (k)")
plt.ylabel("Inertia (Within-Cluster Sum of Squares)")
plt.title("Elbow Method for Optimal k")
plt.grid()
plt.show()
#Choose an optimal number of clusters (adjust after seeing the plot)
```

```
optimal_k = 7  # Change this based on the elbow point in the plot
#Apply K-Means Clustering
kmeans = KMeans(n_clusters=optimal_k, random_state=42, n_init=10)
clusters = kmeans.fit_predict(data_scaled)
#Add cluster labels to the DataFrame
df["Cluster"] = clusters
#Save the clustering results to an Excel file
output_file ="C:\Project\Data\Monthly\grid_PCA_results.xlsx"
df.to_excel(output_file, index=False)
print(f"K-Means Clustering completed. Results saved to {output_file}")
print(f"Cluster Centers:\n{kmeans.cluster_centers_}")
```

The Elbow Method is used to find the optimal number of clusters by plotting the inertia (within-cluster sum of squares) against different values of k. As k increases, the inertia decreases. The "elbow point" on the graph indicates where additional clusters no longer significantly improve the compactness of clusters. This is chosen as the optimal k, balancing clustering quality and model simplicity.

3.6. VISUALIZATION OF CLUSTERS USING ArcGIS

After clustering the grid points based on the principal components, the final step is to visualize the spatial distribution of the identified climate clusters. This helps in interpreting how similar climate zones are geographically grouped across the study area.

To achieve this, the clustering results (with grid names and their assigned cluster labels) were imported into ArcGIS. Each grid was spatially mapped using its geographic reference, and symbology was applied based on the cluster number. Grids belonging to the same cluster were colored similarly to distinguish regions with similar climate characteristics.

This visualization provides a clear and interpretable regionalization of climate over the study area, helping to relate statistical patterns to real-world geography

CHAPTER 4

RESULTS AND DISCUSSION

4.1. INTRODUCTION

This chapter presents and interprets the results obtained from the statistical analysis conducted to regionalize the climate of Kerala based on long-term monthly climate data spanning from 1951 to 2020. The analyses include Principal Component Analysis (PCA) for dimensionality reduction, K-Means clustering for identifying homogeneous climate zones, and spatial visualization using GIS tools.

The discussion is structured to follow the methodological steps described earlier. First, the outcomes of PCA are analyzed in terms of explained variance and selected principal components. Next, the results of the Elbow method and the optimal number of clusters are discussed, followed by the interpretation of cluster characteristics. Finally, the spatial distribution of climate zones is presented using ArcGIS maps.

4.2. PRINCIPAL COMPONENT ANALYSIS RESULTS

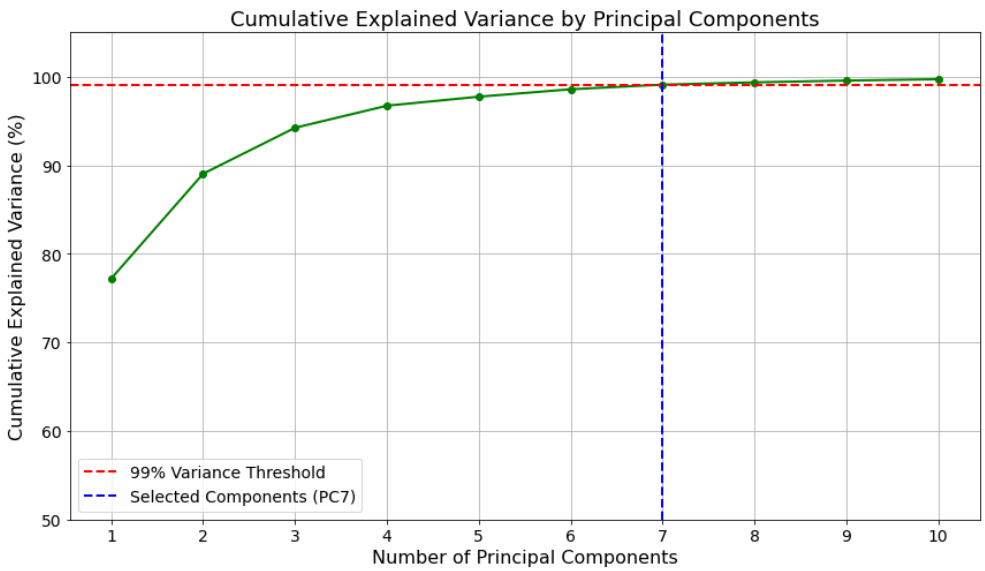

Figure 4.1. Cumulative Explained Variance vs. Number of Principal Components

Principal Component Analysis (PCA) was applied to reduce the dimensionality of the dataset containing 48 climatic and geographical variables per grid. Prior to applying PCA, all variables were standardized to ensure uniform contribution to the analysis regardless of their original scales. The PCA reduced the 48 input variables into a smaller set of uncorrelated variables (principal components) while retaining most of the original variance in the data.

The explained variance ratio for the first ten principal components is as follows:

- **PC1**: 77.22%
- **PC2**: 11.83%
- **PC3**: 5.19%
- **PC4**: 2.49%
- **PC5**: 1.02%
- **PC6**: 0.84%
- **PC7**: 0.52%
- **PC8 to PC10**: Cumulatively contribute less than 1%

These results indicate that the first few principal components capture the majority of the variation in the dataset. Specifically, the first **seven** components together account for **99%** of the total variance (Fig. 4.1.). Therefore, these seven components were retained for further analysis and used as composite indicators in the clustering stage. A cumulative explained variance plot (Fig. 4.1.) was generated to visually assess the number of components necessary to reach the desired threshold of 99% variance retention. A vertical line is drawn at PC7, beyond which the gain in explained variance becomes marginal. This guided the decision to select the first seven principal components for subsequent clustering.

4.3. K-MEANS CLUSTERING RESULTS

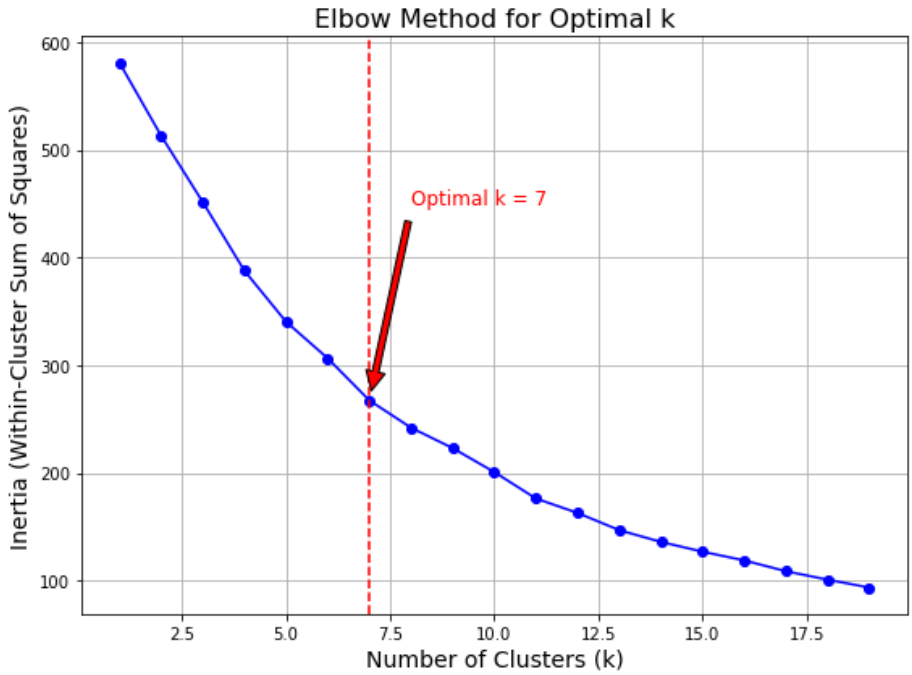

Figure 4.2. Elbow plot showing the variation of inertia (within-cluster sum of squares) with different values of k

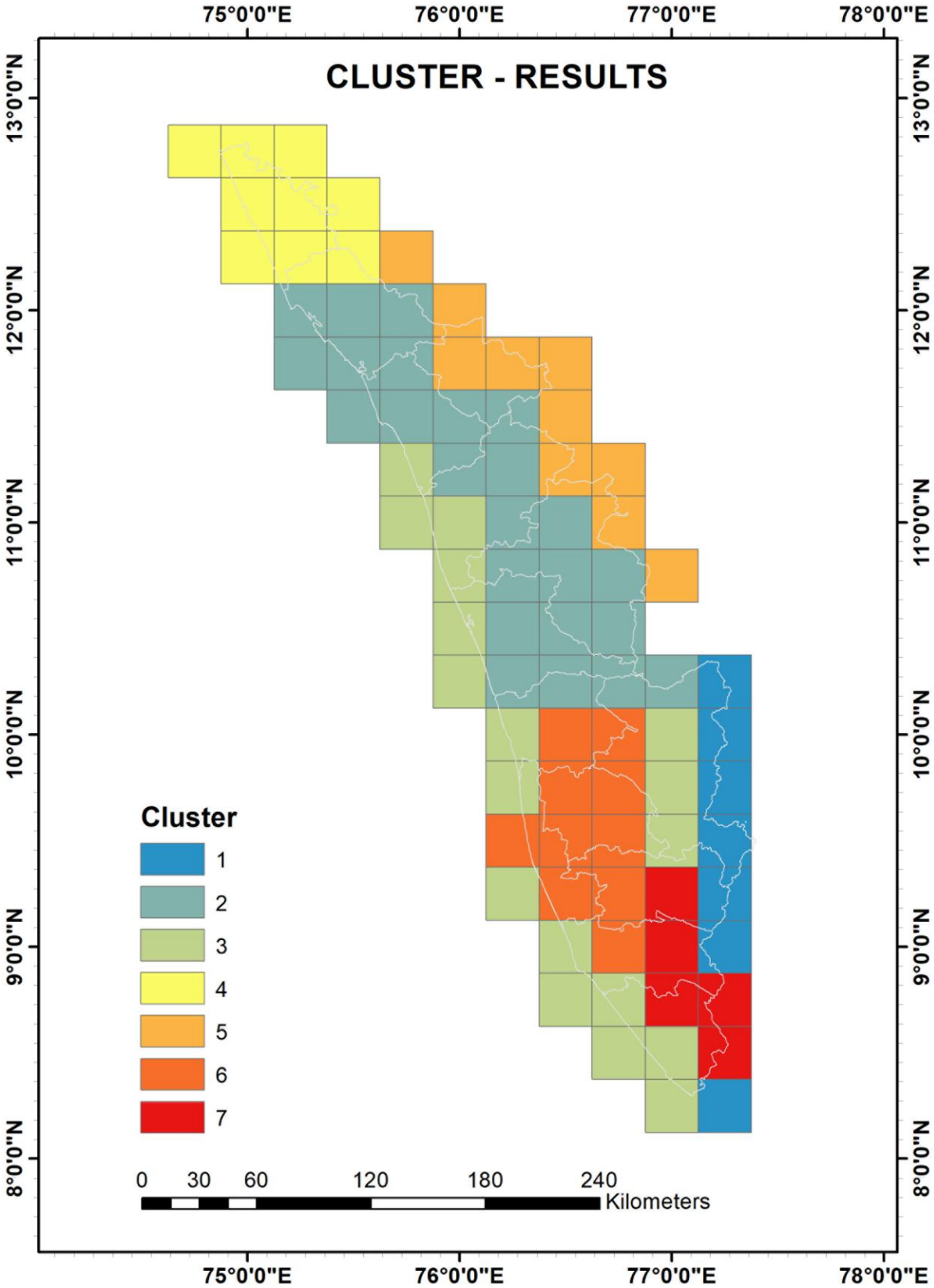

Figure 4.3. Spatial distribution of clusters obtained from K-Means algorithm

To identify distinct climate-based regions across the study area, K-Means clustering was applied to the dimensionality-reduced dataset obtained from Principal Component Analysis (PCA). The input to the K-Means algorithm consisted of the first seven principal components, which together accounted for over 99% of the cumulative variance in the original data. Prior to clustering, the dataset was standardized to ensure uniformity in scale.

To determine the optimal number of clusters, the Elbow Method was employed. This method involves plotting the inertia (within-cluster sum of squares) against a range of cluster counts (k). The resulting curve shown in Fig. 4.2. displayed a distinct "elbow" around k = 7, indicating a balance between minimizing inertia and avoiding overfitting. Hence, seven clusters were chosen for further analysis.

Once the clustering was performed, each grid point was assigned a cluster label ranging from 0 to 6. It is important to note that the numerical labels of clusters are arbitrary and may vary between different runs due to the unsupervised nature of the algorithm. However, the composition of clusters (i.e., which grids are grouped together) remains consistent.

The final cluster assignments were saved and visualized using ArcGIS software (Fig. 4.3.), which revealed spatially coherent patterns corresponding to different climate behavior across the study region. This clustering provides a foundational classification that can be used for further interpretation, planning, and targeted climate analysis.

4.4. SUMMARY AND CONCLUSION

The application of Principal Component Analysis (PCA) effectively reduced the dimensionality of the climate dataset, retaining over 99% of the total variance using the first seven principal components. These components were then used as inputs for K-Means clustering, where the Elbow Method guided the selection of an optimal cluster count. The spatial distribution of the resulting clusters, as visualized in the GIS-based map, reveals distinct climate zones across the study region. This classification forms the basis for further analysis and interpretation in climate regionalization studies. The visual output offers a meaningful representation of climatological similarities and provides a valuable tool for future planning and policy development.

CHAPTER 5
CONCLUSION

5.1. CONCLUSION

The present study was undertaken with the objective of identifying and classifying climate zones within a specified geographical region using a data-driven, unsupervised machine learning approach. The methodology adopted combined statistical techniques and geospatial tools to analyze and visualize regional climate patterns based on long-term monthly climatological data.

A comprehensive dataset comprising 48 climate variables collected across multiple grid points formed the foundation of the study. These variables, representing monthly averages of key parameters such as temperature, rainfall, humidity, and wind speed, were first standardized to eliminate the influence of differing scales and units. Principal Component Analysis (PCA) was employed as a dimensionality reduction technique to extract the most significant patterns in the data while minimizing information loss. The PCA revealed that the first seven components captured over 99% of the total variance in the dataset. This result indicated a high degree of correlation among the original variables, validating the effectiveness of PCA in simplifying the complexity of multivariate climate data.

The transformed data in the reduced seven-dimensional space was then subjected to K-Means clustering. To ensure an optimal and interpretable classification, the Elbow Method was utilized to determine the most suitable number of clusters. This method involved plotting the inertia (within-cluster sum of squares) against different values of k (number of clusters) and identifying the point at which the rate of decrease in inertia slows significantly—commonly referred to as the "elbow point". Based on this analysis, seven clusters were chosen, representing distinct climate zones within the study area.

Each grid point was assigned to a particular cluster, and the clustering results were visualized using GIS software. This spatial visualization of cluster membership revealed patterns of climatic similarity and variation across the region. Areas within the same cluster exhibited similar climatic behavior throughout the year, suggesting that the methodology successfully grouped regions with comparable climate characteristics.

The approach adopted in this study highlights the utility of machine learning techniques in environmental data analysis. Unlike traditional classification systems that often rely on predefined boundaries or qualitative observations, the unsupervised learning methods used here offer a more objective and scalable solution. Moreover, the integration of statistical

analysis with spatial visualization provides an intuitive and informative way of understanding complex climate datasets.

This study, though limited in its scope as an undergraduate project, lays a strong foundation for more advanced research in climate classification and regional planning. Potential extensions of this work include incorporating additional parameters such as elevation or land use, applying alternative clustering algorithms like hierarchical or DBSCAN clustering, and analyzing temporal changes in climate zones over the years.

In conclusion, the combination of PCA and K-Means clustering, supported by GIS visualization, proved to be a robust framework for climate regionalization. The insights generated from this study have the potential to support policy-making in areas such as agriculture, water resource management, and climate resilience planning. As the impacts of climate variability become increasingly significant, such data-driven approaches will be essential tools for sustainable regional development and adaptation strategies.

5.2. LIMITATIONS OF THE STUDY

While this study provides valuable insights into the climate regionalization of the selected region using PCA and K-Means clustering, several limitations should be acknowledged:

1. **Data Limitations**: The dataset was limited to a specific set of 48 climate variables, which might have excluded other factors influencing regional climate patterns, such as soil moisture, vegetation cover, or human activities.
2. **Geographical Constraints**: The study was conducted for a particular geographical region, and the clustering results might not be directly transferable to other regions with different climatic conditions. Extending the analysis to multiple regions or using global datasets could offer a broader applicability of the findings.
3. **Dimensionality Reduction**: Although PCA successfully reduced the dimensionality of the dataset, it does so by assuming linear relationships between variables. In cases where non-linear dependencies exist, PCA might not capture the full complexity of the data. Future work could incorporate non-linear dimensionality reduction methods, such as t-SNE or UMAP, to address this issue.
4. **Assumption of Stationarity**: The study assumes that the climate data is stationary, meaning that the climatic patterns do not change significantly over time. However, climate patterns are influenced by long-term trends such as climate change, which may affect the validity of the results in the future.

5. **Model Assumptions**: K-Means clustering and PCA are based on assumptions that may not always hold in real-world data, such as the assumption of normally distributed data for PCA. In some cases, these assumptions can limit the effectiveness of the models, particularly in dealing with outliers or skewed data.

5.3. FUTURE SCOPE

Despite the limitations, this study provides a solid foundation for further exploration of climate regionalization using machine learning techniques. Several avenues for future research can be pursued to enhance and expand the current work:

1. Incorporating Additional Variables: Future studies could consider adding more variables, such as soil moisture, vegetation indices, or socio-economic factors, to the analysis. This would offer a more holistic view of the factors that influence climate patterns and could lead to more accurate regionalization.
2. Exploring Non-Linear Clustering Methods: While K-Means is a widely used and simple method for clustering, it assumes spherical clusters, which may not always be the case in environmental data. Future work could explore other clustering algorithms such as DBSCAN, hierarchical clustering, or Gaussian Mixture Models, which may capture more complex cluster shapes and distributions.
3. Longitudinal Studies: Incorporating long-term climate data would allow researchers to study temporal changes in climate zones. By applying the same methodology to historical data, it would be possible to assess how climate zones have shifted over time due to factors like global warming or urbanization.
4. Hybrid Approaches: Combining PCA with other dimensionality reduction techniques, such as Independent Component Analysis (ICA) or Autoencoders, could improve the model's ability to capture underlying patterns in the data, particularly when dealing with non-linear relationships.
5. Integration with Remote Sensing Data: Remote sensing technologies, such as satellite imagery, offer rich spatial data that can be integrated with climate data. Combining these data sources could enhance the accuracy and spatial resolution of the climate regionalization, leading to more actionable insights for environmental monitoring and resource management.
6. Real-Time Climate Modeling: Developing real-time monitoring and forecasting models based on the clustering results could help in predicting future climate trends and assist policymakers in preparing for extreme weather events. Integrating climate data with

predictive modeling frameworks could provide early warnings for climate-related hazards like droughts or floods.

7. Regional and Global Comparisons: The methods used in this study could be applied to other regions, both within and outside the country, to compare climate patterns and understand regional variations in more detail. A global-scale analysis could provide insights into how climate zones differ across continents and help in designing international climate action plans.
8. Climate Change Impact Assessment: One of the most important future directions would be to use this methodology for assessing the potential impacts of climate change. By comparing past and future climate data, the study could provide valuable predictions about how climate zones will evolve under different climate change scenarios, which is crucial for developing mitigation and adaptation strategies.

REFERENCES

1. Jain, A. K. (2010). Data clustering: 50 years beyond K-means. Pattern Recognition Letters, 31(8), 651–666. https://doi.org/10.1016/j.patrec.2009.09.011
2. Rani, A., & Sreekala, P. P. (2018). Rainfall regionalization of Kerala using cluster analysis. Mausam, 69(2), 239–248.
3. Sahai, A. K., et al. (2003). Homogeneous Indian Monsoon rainfall regions using cluster analysis. Mausam, 54(3), 429–438.
4. Sharma, J. N., & Singh, N. (2017). Rainfall regionalization using principal component analysis and cluster analysis. Water Resources Management, 31(3), 1037–1051. https://doi.org/10.1007/s11269-016-1555-4
5. India Meteorological Department. (n.d.). Gridded climate data for India. Retrieved April 28, 2025, from https://mausam.imd.gov.in
6. Scikit-learn Developers. (2023). Scikit-learn: Machine learning in Python. Retrieved April 28, 2025, from https://scikit-learn.org/stable/
7. Pandas Development Team. (2023). Pandas documentation. Retrieved April 28, 2025, from https://pandas.pydata.org/
8. NumPy Developers. (2023). NumPy documentation. Retrieved April 28, 2025, from https://numpy.org/
9. Esri. (2025). ArcGIS software products. Retrieved April 28, 2025, from https://www.esri.com/en-us/arcgis/products/index
10. Wikipedia contributors. (2024, February 18). K-means clustering. Wikipedia. https://en.wikipedia.org/wiki/K-means_clustering
11. Wikipedia contributors. (2024, January 10). Principal component analysis. Wikipedia. https://en.wikipedia.org/wiki/Principal_component_analysis

12. Wikipedia contributors. (2024, March 5). Climate of Kerala. Wikipedia. https://en.wikipedia.org/wiki/Climate_of_Kerala
13. Wikipedia contributors. (2024, March 27). Köppen climate classification. Wikipedia. https://en.wikipedia.org/wiki/K%C3%B6ppen_climate_classification